International Journal on Recent and Innovation Trends in Computing and Communication
ISSN: 2321-8169 Volume: 11 Issue: 10
***Article Received:** 15 August 2023 **Revised:** 18 September 2023 **Accepted:** 22 October 2023*

Intelligent Traffic Monitoring System Using Vehicular Ad Hoc Network

M. Jayanthi Rao[1], D. Apparao[2], B. Ramakrishna[3*], K. G. Durga Prasad[4], B.V. Ramana[5] and M. Ramanaiah[6]

[1]Department of Computer Science and Engineering,
Aditya Institute of Technology and Management,
Tekkali-532201, India.
jayanth.mtech@gmail.com
[2]Department of Mechanical Engineering,
Aditya Institute of Technology and Management,
Tekkali-532201, India.
apparao22@gmail.com
[3]Department of Mechanical Engineering,
Aditya Institute of Technology and Management,
Tekkali-532201, India.
* Corresponding author: brkbtech@gmail.com
[4]Department of Mechanical Engineering,
G.V.P. College for Degree and P.G. Courses (A),
Visakhapatnam- 530045, India.
dr.kgdp@gmail.com
[5]Dept of Information Technology,
Aditya Institute of Technology and Management,
Tekkali-532201, India.
ramana.bendi@gmail.com
[6]Department of Chemistry,
Aditya Institute of Technology and Management,
Tekkali-532201, India.
ramanaiahmalla4@gmail.com

Abstract—The growing significance of road safety and human engagement in transport has emerged as a matter of national concern, exerting a profound impact on the lives of individuals.. Many road accidents and crashes failed to ensure human life safety. As a result, the traffic management system must maintain the balance in accordance with the maximum road limits. Vehicles with sensors and automated self-driving capabilities are now available, such as Tesla and others. The proposed system is based on a technique known as Intervention linear minimum spanning tree (ILMST), which employs a topology with lengths that are proportionally equal. When using dynamic topology, there is packet loss during a change of location or a continuous update in networking via vehicle movement from one location to another. In this manner, each node computes the weighted nodes with a number of partitions in order to provide a linear time update. This reduces the number of connected edges in the graph that are repeated. When the size of the repeated graphs that relate the GPS route from the maps is reduced, traffic updates avoid recursion and provide the best routes for customers. Traffic congestion overhead can be reduced by implementing the proposed methodology. It is possible to avoid it where there are traffic signals and all other sensor-based wireless devices in a vehicular Ad Hoc Network (VANET). The safety measures are also a necessary step based on the communications in routing and other protocols. The system, when combined with a neural network-based positioning system (NNPS) with various perceptrons, can maintain vehicle speed and categorize safety threats such as group classification. A solution can be found by repairing the DDoS attack based on the results of the various aspects that provide output for malicious monitoring.

Keywords- Intervention linear minimum spanning tree (ILMST); Linear time, Neural network based position system (NNPS); Traffic management system; Topology; vehicular Ad Hoc Network (VANET).

International Journal on Recent and Innovation Trends in Computing and Communication
ISSN: 2321-8169 Volume: 11 Issue: 10
***Article Received:** 15 August 2023 **Revised:** 18 September 2023 **Accepted:** 22 October 2023*

I. INTRODUCTION

Our goal is to improve traffic operations in intelligent transportation systems (ITS), which have piqued the scientific community's interest, particularly in the field of computer science, due to social and economic reasons. Vehicle ad-hoc networks are one of the research areas that employ big data technology to manage their massive amounts of data. In our cities, the number of automobiles on the road has steadily increased [1]. Congestion, accidents, and stifling air pollution are just some of the social and environmental issues that have arisen as a result of the massive increase in vehicle numbers. Due to the issues raised, IT is a research sector of interest to the research community, particularly in the computer science sphere. Our goal is to create a system that can predict where accidents are likely to happen by estimating traffic viscosity on all highways and in major cities. To accomplish this, we must create a system for forecasting road viscosity based on massive amounts of data collected during vehicle-vehicle collisions [2]. Vehicle ad hoc networks (VANETs) have grown in popularity since their inception. To address the shortcomings of this new network gender, numerous standards, operations, and data processing styles have been developed. Vehicle mobility and the spatial and temporal diversity of traffic viscosity exacerbate the main challenges. One of the most essential components of the VANET architecture is the ability to interact via cellular radio networks such as GSM, 4G, Wi-Fi, and WiMAX [3]. On-board units (OBU) are put on mobile nodes to help them communicate with other mobile nodes like vehicles and stationary stations like roadside units using customized short-range dispatching (DSRC). RSUs are VANET base stations that manage behavior to partake and reuse information, circulate data, provide business directories, act as position waiters, and connect to the Internet and external centralized or distributed waiters, as well as circulate data, provide business directories, act as position waiters, and connect to the Internet and external centralized or distributed waiters. Also known as centralized pall, this is a computer system in which a central server conducts all or most of the treatment or number crunching. All IT pockets, as well as the administration and management of a centralized garcon, can be deployed using centralized computing [4].

Vehicular networks (VANETs) are similar to mobile networks (MANETs) with the addition that the nodes in these networks are vehicles [5]. As a result, node movement, or vehicle movement, is limited by the road course, which includes traffic and traffic rules. Because of these constraints, VANET is supported by a fixed structure that aids in some VANET services and provides access to stationary networks. Fixed architectures are strategically placed in strategic locations such as roadside, service stations, dangerous corners, and areas with hazardous precipitation conditions. VANET is a highly adaptable network of specially designated remote systems (MANETs) Vehicular systems are a new type of remote system. Moving vehicles are used as hubs in a system to create a portable system in VANET [6]. Various types of attacks on the VANET can result in a loss or reduction in accessibility. Even a strong communication channel can be subjected to attacks (such as denial of service) that bring the network down. As a result, alternate means should be used to support availability. As a building block, the digital signature is an important component of VANET security. Authentication (via signatures) is a basic security requirement for infrastructure and inter-vehicle communications [7]. Because of the short communication time, ensuring reliable message reception and acknowledgement between communication vehicles travelling in opposite directions is difficult. The majority of messages transmitted in vehicular ad hoc networks will be periodic broadcast messages informing neighbors of the status of a vehicle. As a result, more dependability is required for broadcast messages. To improve reliability, some researchers proposed using a group of vehicles transporting messages. Aside from the establishment and enhancement of trust, the security of message content is a major concern in vehicle-to-vehicle communication. To be ready for use as soon as possible, the content of an entered communication must be validated in a timely manner [8].

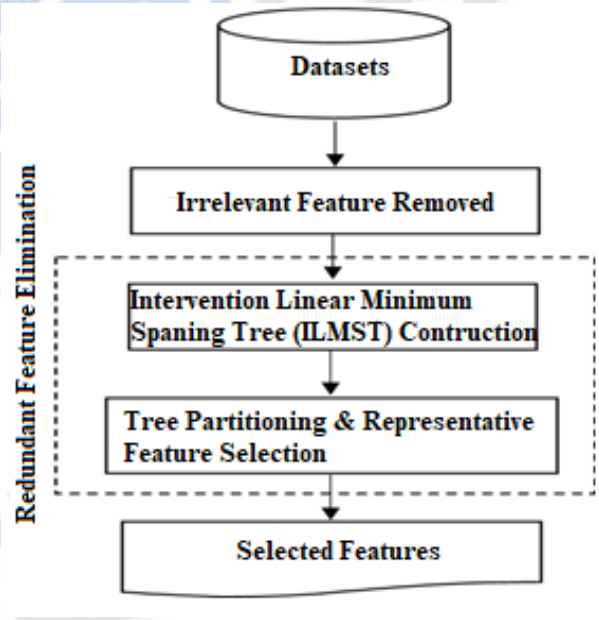

Figure 1: Proposed ILMST Feature Selection flow System.

In this paper, we propose an advanced distance-based routing protocol that takes into account these VANET characteristics. We're especially curious about how our protocol handles civic vehicular ambient (i.e., multihued changes in topology and setup caused by obstacles) while consuming the least amount of network outflow. We use an ILMST-based VANET for route discovery, speed,

distance, and a stable relay node decision scheme. To avoid setup due to obstacles near Carrefour, the proposed approach- rested route discovery- is built on the ILMST technique. It achieves a successful course discovery with the aid of using broadcasting packets in all instructions from an intersection. The ILMST approach is used within the solid relay node choice device, which prioritizes a sender's relative speed, distance, and relative rapidity from neighboring nodes. It can discover the formal relay node out of doors of the Carrefour for dependable routing. For a greater correct overall performance assessment in civic scenarios, the proposed device provides limitations in addition to real-global organization motion styles into the simulation. As a result, our proposed device's number one traits are as follows: 1) dependable goal course discovery; 2) impediment avoidance; 3) dependable multi-hop emergency verbal exchange dispersion, and 4) reduced community site visitors because of lesser outflow

The remainder of the paper is structured as follows. Section II contains a review of the literature. The VANET model is described in Section III. The proposed methodology is described in Section IV. Section V describes and illustrates the simulation results and performance. Section VI brings the paper to a conclusion.

II. LITERATURE SURVEY

This section elaborates various researchers has done research in VANET with vehicle traffic management system. Indeed, the VANET device is hastily turning into a big records problem. As a result, some of huge records technology is probably utilized to deal with records from VANETs so that you can higher control traffic. Because it as compared the method imposed in a Hadoop Map Reduce terrain to a Dijkstra imposed in a easy NetBeans terrain, the VANET Dijkstra set of rules implementation [9] attracted our curiosity. Another critical purpose is to discover automobiles within the VANET community which could act as records capitals with the aid of using accumulating and analyzing community records. In this case, rating algorithms just like InfoRank [10] are being developed. A velocity vaticination set of rules able to expecting a vehicle's velocity on highways and civic region avenue networks is called huge records-primarily based totally deep literacy velocity vaticination (BDDL-SP) (11). There are a few new information control structures at the market. Data generated in actual time via way of means of some of agents, such as motors and roadside units (RSUs), permits for brief information processing to make street running decisions. Using naive Bayes and allotted arbitrary timber (DRF), for example, those novel algorithms can forecast injuries and locks [12]. One of those structures is the Lambda configuration (LC) [13], a information remedy setup that permits each batch and actual-time processing of massive volumes of information. In composition, an ITS terrain trial become completed to evaluate site visitors viscosity for numerous metropolises on extraordinary highways and carry out an approximated assessment primarily based totally on that parameter. The writers of the composition advocate a mechanism for transmitting dynamic reviews on egocentric and nasty automobiles. The recommended technique employs an encryption medium to alter dispatches. On the only hand, the authors advanced an armature for massive on-automobile datasets that governs centralized get admission to big records within the composition at the other. For real-time processing and analysis, the recommended device combines a centralized records storehouse and processing medium with a disbursed records storehouse medium. In composition, a real-time routing device primarily based totally on on-street automobile viscosity turned into presented. The street viscosity is decided for every automobile that belongs to it the usage of label dispatches and the street statistics table.

Composition reconstructs the experimental dataset the use of an artificial nonage oversampling approach; nonage samples from the examine dataset have been oversampled, and clean samples have been synthesized to fill within the gaps. On the only hand, they regarded into VANET generation to peer if they might switch information efficiently and reliably. They additionally mentioned approaches to apply Big Data to look at VANET traits and enhance their performance. Composition proposes a unique routing device that employs (hyperlink guarantee) and a knot to tag the coming-hop node (encouraging motion distance). All quality-of-provider necessities have been formalized the use of the weighted function. The H2O and WEKA beginning gear are used to estimate 5 classifiers on large units of manufacturing facility information in composition. AdaboostM1, C4. five, scattered forestland (RF), naive Bayes (with the C4.five advent classifier), and Bagging have been the classifiers employed. They located that nave Bayes (NB) produced the maximum attractive results, with the quickest computation time and the largest sensible place beneath curve (AUC) and accuracy (ACC). In paper, a brand-new Internet configuration known as facts networking (NDN) is proposed to deal with the shortcomings of VANET networks and to carry out a whole lot of VANET sports consisting of object tracing, following a cell car, and handling a powerful conversation channel. In the composition of this exploratory design, a powerful and stable facts amassing method is suggested, which protects the safety and secrecy of facts transmitted among vehicles and RSUs. To make certain stable conversation among vehicles and RSUs, it employs uneven encryption. Before the RSU starts gathering car facts, it establishes stable authentication among the auto and the RSU. According to an article, automobile VANETs are progressing towards the Internet of vehicles (IoV) through significantly increasing community scale

International Journal on Recent and Innovation Trends in Computing and Communication
ISSN: 2321-8169 Volume: 11 Issue: 10
***Article Received:** 15 August 2023 **Revised:** 18 September 2023 **Accepted:** 22 October 2023*

and executing real-time and long-time period information processing, promising green and clever destiny transportation. Vehicles, on the alternative hand, are not handiest consumers; additionally, they generate large volumes and kinds of information, that's called large information. They first checked out how IoV and large information have interaction within the vehicular terrain, that specialize in how IoV makes use of large information for characterization, performance, and different goals, in addition to how IoV makes large information transfer, storage, and calculation easier. According to a composition, self-reliant vehicle (AV) era has substantial financial and societal advantages and repercussions. Line making plans is one of the maximum widespread and important additives of working an unbiased vehicle.

This study proposes an enhanced distance-based VANET routing protocol based on stable routing decision algorithms. This work makes the following contributions in comparison to earlier research:

1) Consistent route discovery to the target;
2) Avoiding disconnection due to obstacles;
3) Reliable multi-hop emergency message dissemination;
4) Reduced network congestion due to lower overhead.

III. Vehicular Ad-Hoc Networks (VNET) Model

Many car manufacturers and research institutions are looking into ways to create vehicular networks. Mobile Ad Hoc Networks (MANET) are an appealing solution for inter-vehicular communications due to their flexibility.

VANETs have a few qualities that other MANET kinds don't:

• Vehicles move at a high rate.

• Due to road infrastructure constraints, mobility patterns are somewhat predictable.

• In some conditions, such as highway traffic, mobility patterns become fairly predictable.

• A large region of coverage.

• Power consumption isn't a concern because vehicles travel vast distances and traffic data may be helpful to vehicles hundreds of miles away. Vehicles serve as portable power plants. Why because automobiles are expensive, extra sensors can be installed without considerably increasing the overall cost.

• Vehicles move in and out of transmission range at a quick rate in a VANET's topology, and vehicles traverse great distances in a short amount of time when compared to other mobile networks.

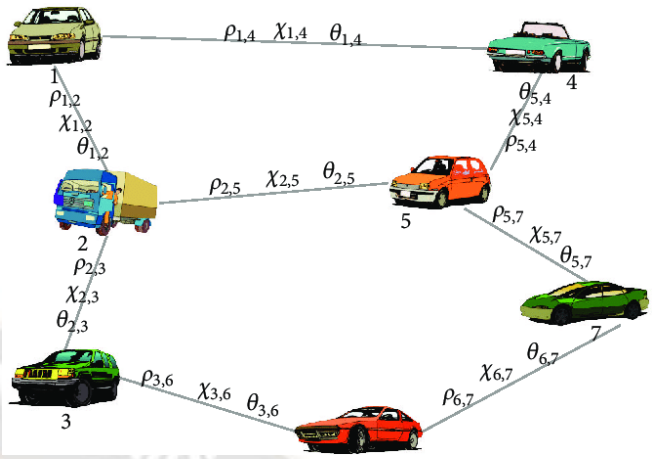

Figure 2: VNET Model Traffic Vehicle Management System.

IV. Proposed Methodology

This section describes the proposed methodology with their individual works to the entire VANET traffic congestion management system

A. *ILMST Based VANET Algorithm*

The Global Positioning System is used to decide the vicinity of the car (GPS). A automobile in a selected avenue member is randomly decided on, and a listing of motors is chosen to shape a cluster, the usage of the intervention direct minimum scaling Tree technique (ILMST). The car selected turns into the cluster head for that particular cluster. Cluster participants are decided on primarily based totally on speed, proximity to the cluster leader, and tour within the identical course because the cluster head. The range of motors is likewise restrained to keep away from exceeding the most places and range of automobiles every cluster. Because the range of cars in a cluster rises, the vicinity expands till it reaches a factor in which QoS high-satisfactory is bad, our preventing criterion is the place blanketed through the cluster. To find the shortest route thru a connected weighted network, the intervention direct set of rules is utilized. The set of rules generates a low-cost intervention direct gauging tree through selecting edges from the network one at a time, as visible below.

Calculating the distance required from a source to destination,

$$\{([txli] + [d/lm]_i) + ([txli] + [d/lm]_{in}) + \cdots \ldots \ldots \ldots \ldots .. ([txli] + [d/lm]_{in-\infty})\} \quad (1)$$

The heuristic function is applied to the vehicle of tracking:

$$h(k) = |p_i - p_d| \quad (2)$$

Condition (1), on the other hand, does not speak well of the investigated cost of the momentum point as a heuristic capability, and the evaluation of the past pursuit point is easily discarded. Furthermore, when the emphasis increases, so does

International Journal on Recent and Innovation Trends in Computing and Communication
ISSN: 2321-8169 Volume: 11 Issue: 10
***Article Received:** 15 August 2023 **Revised:** 18 September 2023 **Accepted:** 22 October 2023*

the estimation of the later included point, resulting in a slower calculation combination. In order to accomplish so, this study uses the following heuristic capability:

$$h(k) = \sum_{i=2}^{k} \left(|p_i - p_d| - |p_{i-1} - p_d|\right) \quad (3)$$

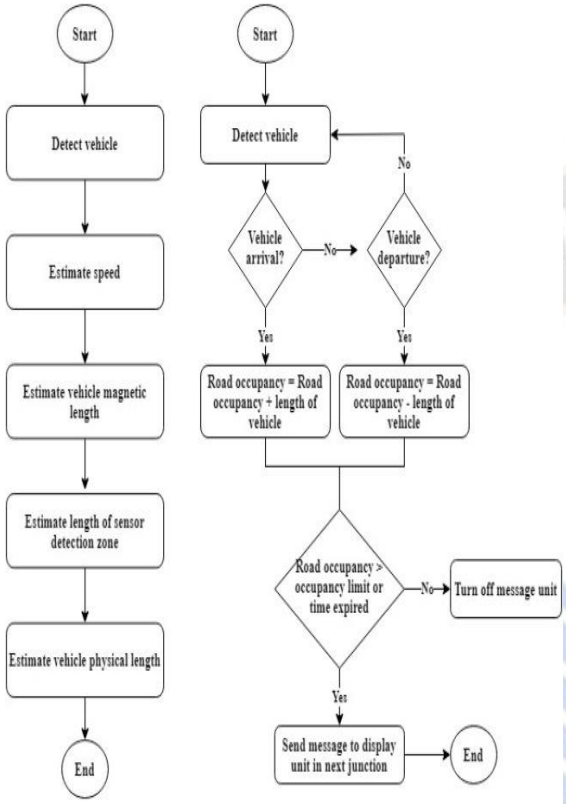

(a) (b)

Figure 3: a) and b) Proposed ILMST Based VANET Model Traffic Vehicle Management System

1) It starts with a tree, T, and a single starting vertex, x.
2) It also seeks out the shortest x-connected edge connecting T to the rest of the graph's nodes (i.e., a vertex not in the tree, T). 3) It adds this edge and the new vertex to the treeT. 4) It additionally plants the shortest edge linking the revised tree T until a minimal gauging tree meets the necessary parameters. Consider the graph G of moving cars on a road, where v denotes the total number of cars travelling in the same direction. Edge weights w are a metric calculated in graph G by combining haste similarity and shortest distance. Edges are the number of edges in graph G that do not form a circle. The ILMST-based VANET Algorithm displays the algorithm's details.

$$e = v\ 1 \quad (4)$$

Algorithm: ILMST (T) Based VANET Graph
Require: <Vehicles in a road segment forming Graph G>
Ensure: <Cluster Graph (T)>
1: let G be the graph containing candidate vehicles that can be clustered together with the
selected vehicle in a road segment;
2: let T be an empty graph;
3: let R be the maximum range of the cluster-head;
4: let R× be the distance between the candidate vehicle and the cluster-head;
5: while (R×) < (R) do
6: let (v, e) have the smallest metric weight (w) in graph G;
7: remove (v, e, w) from G
8: add v and e to T
9: for each edge f = (vi,ei) with weight wi do
10: if vi is not already in T and is not a candidate for selection by another cluster-head then
11: find edge g = (u, g) with weight z in G;
12: if edge weight (f) < edge weight (g) then
13: replace edge weight g with edge weight (f);
14: end if
15: end if
16: end for
17: end while
18: return Cluster

This proposed methodology of Figure 3 (a) and (b) will assist vehicles in avoiding sections of road where there is an anomaly or congestion; additionally, it reduces the severity of an accident automatically. Following the establishment of the most beneficial course at the beginning of the car trip, the car sends a declaration of its access and course to the machine to look if there's an anomaly or a revision in phrases of the predicted time for crossing the next sections of the hooked up course; if so, the machine will search for every other similarly most beneficial course and shoot him the brand new path; if not, the car will retain on his initial course hooked up; otherwise, the car will retain on his initial course hooked up. Because the kingdom of the commercial enterprise fluctuates frequently within the VANET network, those assessments of the repute of the approaching segment are completed at every segment access and at some stage in its duration. Our machine's accuracy in estimating car look instances declines because of those ordinary inspections.

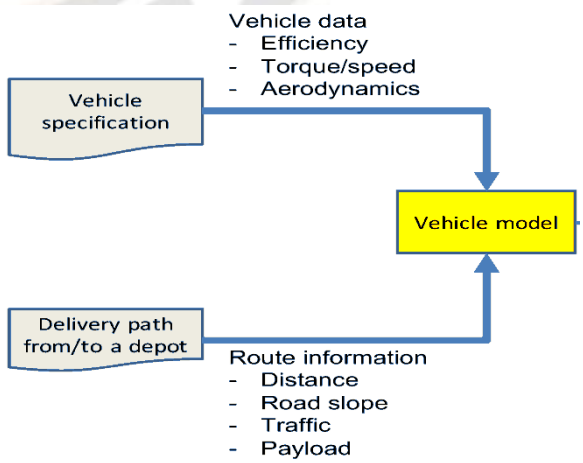

Figure 4: Vehicle Data design structure

International Journal on Recent and Innovation Trends in Computing and Communication
ISSN: 2321-8169 Volume: 11 Issue: 10
***Article Received:** 15 August 2023 **Revised:** 18 September 2023 **Accepted:** 22 October 2023*

Figure 4 depicts a summary of the vehicle data design for both vehicle data and route information. If the distinction among those values and the similar values withinside the base exceeds a threshold, we can finish that there's an anomaly or occasion due to the fact the adulthood of the motors spends an excessive amount of time in segment x. When our gadget notices a alternate in the quantity of time spent on a specific segment, it steadily updates the bottom spending time for that portion. If the quantity of time spent in that segment is reduced, we are able to expect that there's not a commercial enterprise trouble in that segment, consequently we modernize the bottom as well. As a result, in phrases of real-time commercial enterprise reputation and visible changes, our database is continuously as much as date.

V. Results and Discussion

This section explains and shows the various results for the proposed methodology with their specific parameters with comparison of existing methodology.

A. Experimental Setup

We use CRAWDAD real-world vehicular mobility trace data collected from three different locations to induce our road member business. We recorded sales on a one-kilometer stretch of road in New York City (high business), Disney World in Florida (medium business), and the State Fair of New York (low business) (low business). We select vehicles travelling at comparable speeds and record the X (latitude) and Y (longitude) coordinates for each vehicle. In addition, at random, we select one vehicle to serve as a cluster-head. We use an equation to calculate the distance between a vehicle and the cluster-head based on the recorded X and Y coordinates (2). To achieve optimal selection, we employ the proposed methodology to instigate an ILMST algorithm of vehicles that are closest to the vehicle that was arbitrarily chosen as the cluster-head. We run our algorithm on Matlab with simulated data on a laptop with 2 GB of memory and an Intel Core (TM) 2 Brace2.00 GHz processor.

Table 1. Comparison performance of different algorithm for estimating distance, speed and travelling time required.

Algorithm	Distance (km)	Speed km/hr	Travelling Time (Mints)
Bubble sort [26]	12	87	8.752
Insertion sort [27]	10	73	8.192
Shell sort [28]	9	3	18.00
Merge sort [29]	13	4	19.50
Heapsort [30]	12	7	10.20
Quicksort [31]	8	52	9.231

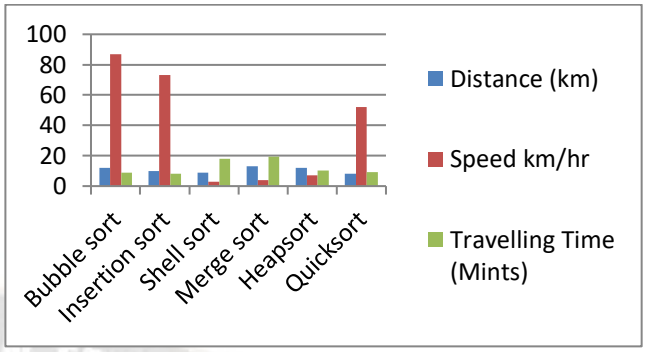

Figure 5. Comparison performance of different algorithm for estimating distance, speed and travelling time required.

B. Evaluation Metrics

We test our Algorithm using the following metrics:

1) The distance between cluster-head vehicle and any other nearest vehicle is given by:

$$D = (x_i - x_j)^2 + (y_i - y_j)^2 \quad (5)$$

where x and y are the Latitude and Longitude respectively of the two vehicles.

2) The maximum allowable distance between the cluster-head vehicle and cluster members determines the quality of service (QoS). The lower the QoS, the greater the distance. Let R be the maximum allowable distance for achieving acceptable QoS. This is a cluster-intra-cluster head's transmission range. Let D be the calculated distance between a cluster-head vehicle and a cluster member (6). Thus, QoS is provided by:

$$QoS = \frac{R}{D} \quad (6)$$

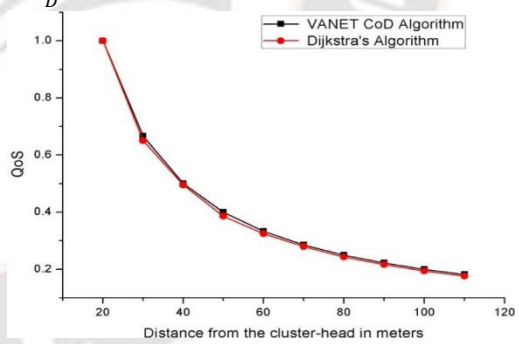

Figure 6. Comparison of Proposed and dijkstra's algorithm for distance measurement

Figure 6 compares the results of our proposed algorithm to those of the existing Dijkstra algorithm, and it can be seen that the results are very similar. Our proposed algorithm has an advantage over Dijkstra's algorithm in that it can be used when the weights are negative, i.e. when the vehicles are moving in opposite directions, whereas Dijkstra's algorithm can only be used when the weights are positive.

International Journal on Recent and Innovation Trends in Computing and Communication
ISSN: 2321-8169 Volume: 11 Issue: 10
***Article Received:** 15 August 2023 **Revised:** 18 September 2023 **Accepted:** 22 October 2023*

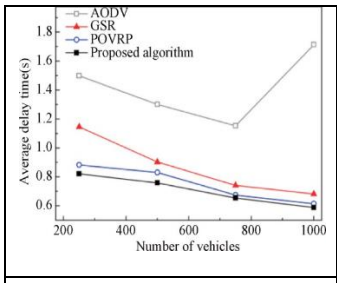

Figure 7. RREQ packet delivery ratio versus the number of vehicles.

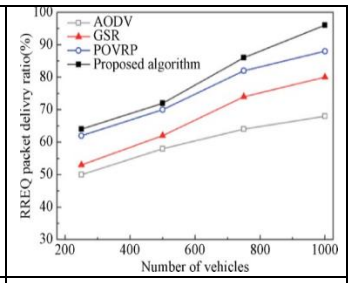

Figure 8. RREQ packet delivery ratio versus the number of vehicles.

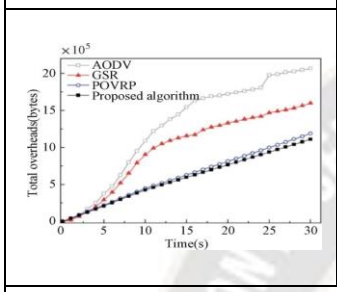

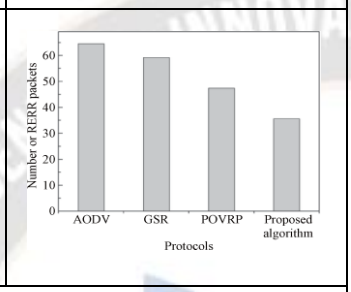

Figure 9. depicts the average detention time for establishing a routing path in various vehicle figures.

With the exception of AODV, all of these protocols reduce average detention time in high vehicle consistence because the number of vehicles is sufficient to form a routing path. The RREQ packet delivery rate for colourful vehicle counts is depicted in Figure 8. It tends to increase as vehicle consistency increases because more vehicles are available to deliver packets in all of those protocols. The cumulative charges are shown in Figure 9 as a function of simulation time. The proposed protocol uses the same basic form algorithm as POVRP, but the number of RERR packets is decreased by roughly 25 because it uses a stable routing choice strategy that decreases the amount of breakaway bumps (see Figure 9).

VI. Conclusions

In this research, we offer an ILMST-based VANET routing method for reducing network traffic. It used two main techniques: crossroad-based route discovery with the ILMST for packet dispersion without obstacle disposition, and a stable relay knot decision methodology with the ILMST for determining the optimal relay knot for stable routing outside of the crossroad. Furthermore, the proposed methodology addressed the issues by mimicking real-world company movement patterns in order to provide a more accurate assessment of civic effectiveness. As a result, our proposed protocol outperforms other being algorithms in civic vehicular scripts. The proposed protocol demonstrates that by employing a stable routing option, it is possible to reduce average detention while maintaining a high output and a high probability of delivery success. Finally, consistent multi-hop emergency communication dispersion, reduced network traffic due to lower outflow, and dependable multi-hop emergency communication dispersion are all advantages of our proposed methodology

References

[1] List and number all bibliographical references in 9-point Times, single-spaced, at the end of your paper. When referenced in the text, enclose the citation number in square brackets, for example [1]. Where appropriate, include the name(s) of editors of referenced books. The template will number citations consecutively within brackets [1]. The sentence punctuation follows the bracket [2]. Refer simply to the reference number, as in [3]—do not use "Ref. [3]" or "reference [3]" except at the beginning of a sentence: "Reference [3] was the first . . ."

[2] Number footnotes separately in superscripts. Place the actual footnote at the bottom of the column in which it was cited. Do not put footnotes in the reference list. Use letters for table footnotes.

[3] Unless there are six authors or more give all authors' names; do not use "et al.". Papers that have not been published, even if they have been submitted for publication, should be cited as "unpublished" [4]. Papers that have been accepted for publication should be cited as "in press" [5]. Capitalize only the first word in a paper title, except for proper nouns and element symbols.

[4] For papers published in translation journals, please give the English citation first, followed by the original foreign-language citation [6].

[5] C. Lochert, H. Hartenstein, J. Tian, et al., "A Routing strategy for vehicular ad hoc networks in city environments", Proc. of the IEEE Intelligent Vehicles Symposium, pp.156–161, 2003.

[6] A. Bhm and M. Jonsson, "Position-based data traffic prioritization in safety-critical, real-time vehicle-to-infrastructure communication", Proceedings of the IEEE International Conference on Communications Workshops (ICC 09), pp.1–6, 2009.

[7] P.-C. Cheng, K. Lee, M. Gerla, et al., "GeoDTN+Nav: Geographic DTN routing with navigator prediction for urban vehicular environments", Mobile Networks and Applications, Vol.15, No.1, pp.61–82, 2010.

[8] S. Xu and S. Lee, "Route optimization algorithm for vehicle to vehicle communication using location information", Chinese Journal of Electronics, Vol.21, No.4, pp.583–588, 2012.

[9] C. Perkins, E. Royer and S. Das, "Ad hoc on-demand distance vector (AODV) routing", Internet Draft, Internet Engineering Task Force, http://www.rfc-editor.org/info/rfc3561. 2014- 12-20.

[10] B. Karp and H.T. Kung, "GPSR: Greedy perimeter stateless routing for wireless sensor networks", Proceedings of the 6th Annual ACM/IEEE International Conference on Mobile Computing and Networking (MobiCom '00), Boston, MA, pp.243– 254, 2000.

[11] X. Fan, C. Wang and J. Zhang, "Context-based adaptive routing in opportunistic Network", Chinese Journal of Electronics, Vol.22, No.4, pp.173–176, 2013.

[12] F. Li and Y. Wang, "Routing in vehicular ad hoc networks: A survey", IEEE Vehicular Technology Magazine, Vol.2, No.2, pp.12–22, 2007.

[13] J. Zhao and G. Cao, "VADD: Vehicle-assisted data delivery in vehicular ad hoc networks", IEEE Transactions on Vehicular Technology, Vol.57, No.3, pp.1910–1922, 2008.

[14] Y. Ding and L. Xiao, "SADV: Static-node-assisted adaptive data dissemination in vehicular networks", IEEE Transactions on Vehicular Technology, Vol.59, No.5, pp.2445–2455, 2010.

[15] X. Li, H. Li, K. Yang, et al, "An optimization forwarding range routing protocol for VANET in city environments", Chinese Journal of Electronics, Vol.23, No.1, pp.191–193, 2014.

[16] S. Jung, "A position-based on-demand routing protocol in VANET", Ph.D. dissertation, HANYANG University, 2011.

[17] S. Jung, S. Lee and H. Oh, "Improving the performance of AODV(-PGB) based on position-based routing repair algorithm in VANET", KSII Transactions on Internet and Information Systems, Vol.4, No.6, pp.1063–1079, 2010.